Extracting and Plotting Position-Velocity Diagrams

Authors

Adam Ginsburg, Eric Koch

Learning Goals

- Extract a position-velocity diagram from a spectral cube using both pixel and sky coordinates using pvextractor
- Display the position-velocity diagram with appropriately labeled coordinates
- Display the extraction path on the plots

Keywords

pv-diagram, spectral cube, pvextractor, radio astronomy, coordinates

Summary

In this tutorial, we will extract position-velocity (PV) diagrams from a spectral cube and plot them.

Position-velocity diagrams are often used in radio astronomy for analysis of rotating objects, like protostellar disks and galaxies, to measure rotation curves and determine the contained mass. They are also used in studies of atomic and molecular clouds to show where overlapping emission may point at interactions between distinct clouds. Both radio and optical position-velocity diagrams are used to study outflows, jets, and winds; in the optical, two-dimensional spectra obtained from long-slit spectrographs naturally produce the equivalent of a position-velocity diagram.

Header material

We import tools from several packages up front:

```
import matplotlib.pyplot as plt
from astropy import units as u
from astropy import wcs

from spectral_cube import SpectralCube

from pvextractor import extract_pv_slice, Path

# set so that these display properly on black backgrounds
plt.rcParams["figure.facecolor"] = "w"
```

```
/opt/hostedtoolcache/Python/3.12.11/x64/lib/python3.12/site-packages/tqdm/auto.py:21
  from .autonotebook import tqdm as notebook_tqdm
```

Retrieve and open a cube from astropy-data:

```
cube = SpectralCube.read("http://www.astropy.org/astropy-data/l1448/l1448_13co.fits"
cube
```

```
SpectralCube with shape=(53, 105, 105):
 n_x:    105  type_x: RA---SFL  unit_x: deg    range:    50.924417 deg:   51.740103
 n_y:    105  type_y: DEC--SFL  unit_y: deg    range:    30.301945 deg:   30.966389
 n_s:     53  type_s: VOPT      unit_s: m / s  range:     2528.195 m / s:    5982.22
```

We show a single channel from the cube to visualize the data spatially. We use pixel units to start; we'll show celestial coordinates later

```
plt.imshow(cube[25].value, origin="lower")
```

```
<matplotlib.image.AxesImage at 0x7fdfbbd84d10>
```

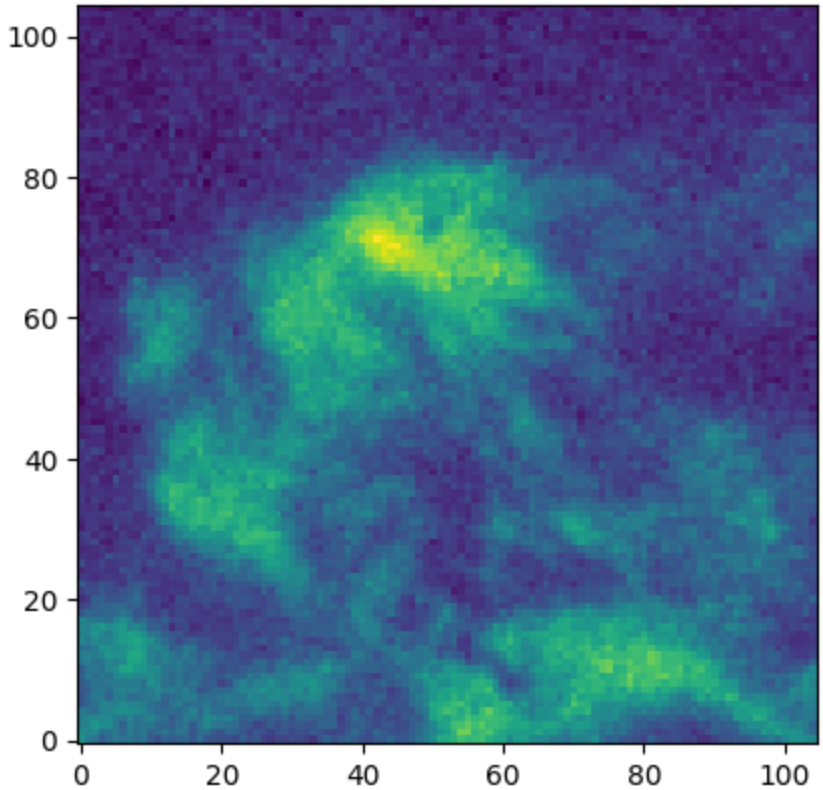

First we create an extraction *path*. This path is the two-dimensional spatial coordinates through which we are cutting out our PV diagram. It is drawn below.

The entries are pairs of pixel coordinates, (x,y). In this case, we've selected arbitrary coordinates for our demonstration, but for your use case, you might pick the axis of an outflow, the major axis of an inclined disk, or a spiral following an arm of a galaxy.

```
path = Path([(20, 20), (40, 40), (60, 20)])
```

Then we can overplot it on our figure, now with WCS shown. The plotting uses [WCSAxes]

```
ax = plt.subplot(111, projection=cube.wcs.celestial)
ax.imshow(cube[25].value)
path.show_on_axis(ax, spacing=1, color="r")
ax.set_xlabel(f"Right Ascension [{cube.wcs.wcs.radesys}]")
ax.set_ylabel(f"Declination [{cube.wcs.wcs.radesys}]")
```

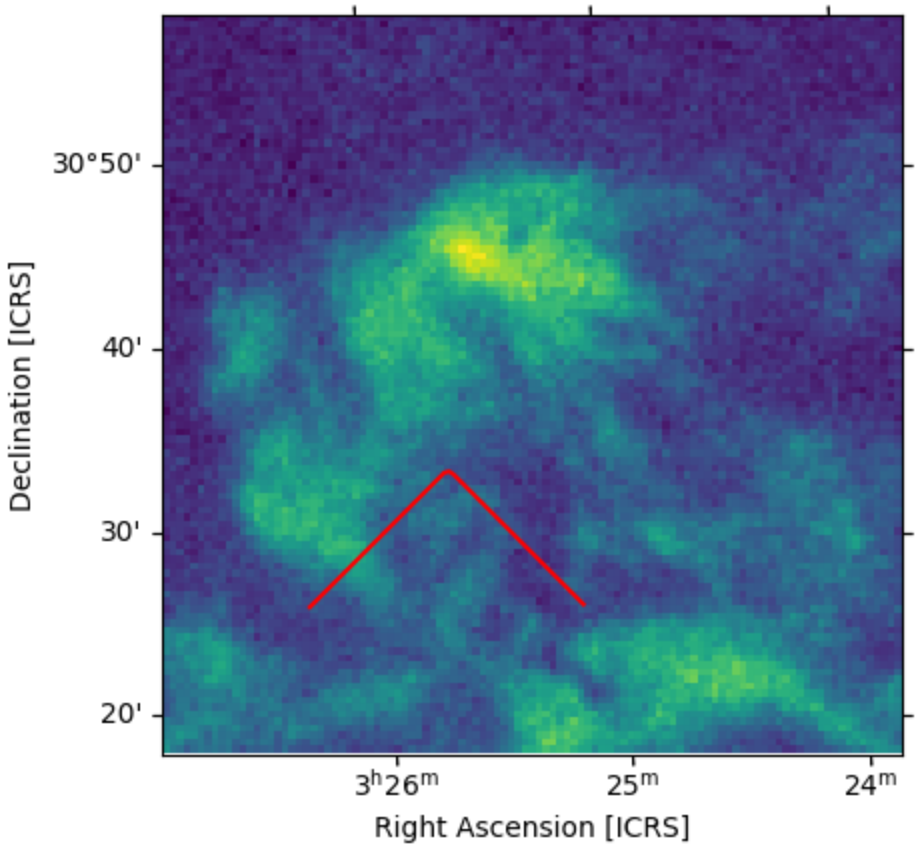

`spacing` gives the separation between these points in pixels; we finely sampled by picking one-pixel spacing.

We can then extract the pv diagram, specifying the same spacing.

```
pvdiagram = extract_pv_slice(cube=cube, path=path, spacing=1)
pvdiagram
```

```
<astropy.io.fits.hdu.image.PrimaryHDU at 0x7fdfbaa322a0>
```

and plot it. `pvdiagram` is a `PrimaryHDU` object, so we need to grab the data separately from the header and convert the header to a WCS object:

```
ax = plt.subplot(111, projection=wcs.WCS(pvdiagram.header))
im = ax.imshow(pvdiagram.data)
cb = plt.colorbar(mappable=im)
# we could specify the colorbar units like this:
# cb.set_label(cube.unit)
# but the 'BUNIT' keyword is not set for these data, so we don't know the unit.  We
cb.set_label("Brightness Temperature [K]")
```

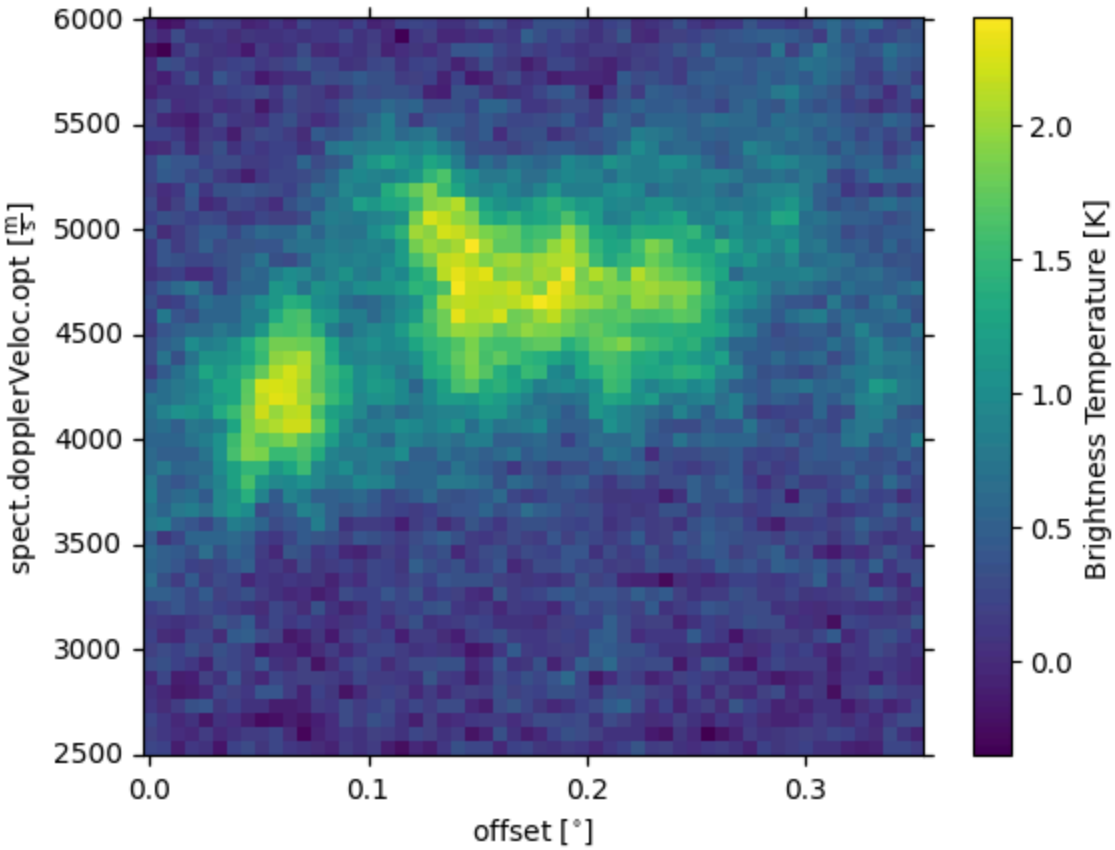

Changing units to the more commonly used km/s and more readable arcminutes can be done with [wcsaxes tools](#):

```
ww = wcs.WCS(pvdiagram.header)

ax = plt.subplot(111, projection=ww)
im = ax.imshow(pvdiagram.data)
cb = plt.colorbar(mappable=im)
cb.set_label("Brightness Temperature [K]")

ax0 = ax.coords[0]
ax0.set_format_unit(u.arcmin)
ax1 = ax.coords[1]
ax1.set_format_unit(u.km / u.s)

ax.set_ylabel("Velocity [km/s]")
ax.set_xlabel("Offset [arcmin]")
```

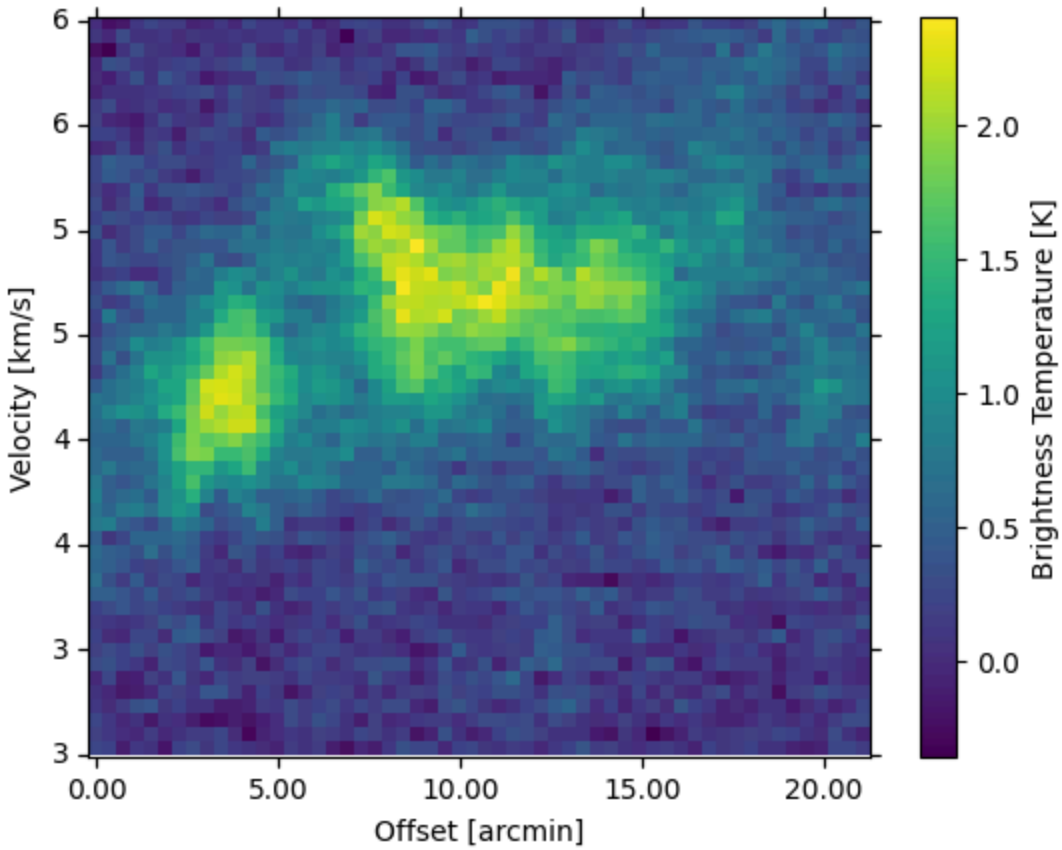

We can put all this together:

```
# we will use the peak intensity for future display
# the warning here can be ignored because the cube is small,
# but we don't silence it because it's a legit warning when dealing with big cubes
mx = cube.max(axis=0).value
```

```
WARNING: PossiblySlowWarning: This function (<function BaseSpectralCube.max at 0x7fc
```

```
plt.figure(figsize=(12, 6))
ax = plt.subplot(121, projection=cube.wcs.celestial)
ax.imshow(mx)
path.show_on_axis(ax, spacing=1, color="r")

ww = wcs.WCS(pvdiagram.header)
ax.set_xlabel(f"Right Ascension [{cube.wcs.wcs.radesys}]")
ax.set_ylabel(f"Declination [{cube.wcs.wcs.radesys}]")

ax = plt.subplot(122, projection=ww)
im = ax.imshow(pvdiagram.data)

ax0 = ax.coords[0]
ax0.set_format_unit(u.arcmin)
ax1 = ax.coords[1]
ax1.set_format_unit(u.km / u.s)

ax.set_ylabel("Velocity [km/s]")
ax.set_xlabel("Offset [arcmin]")
```

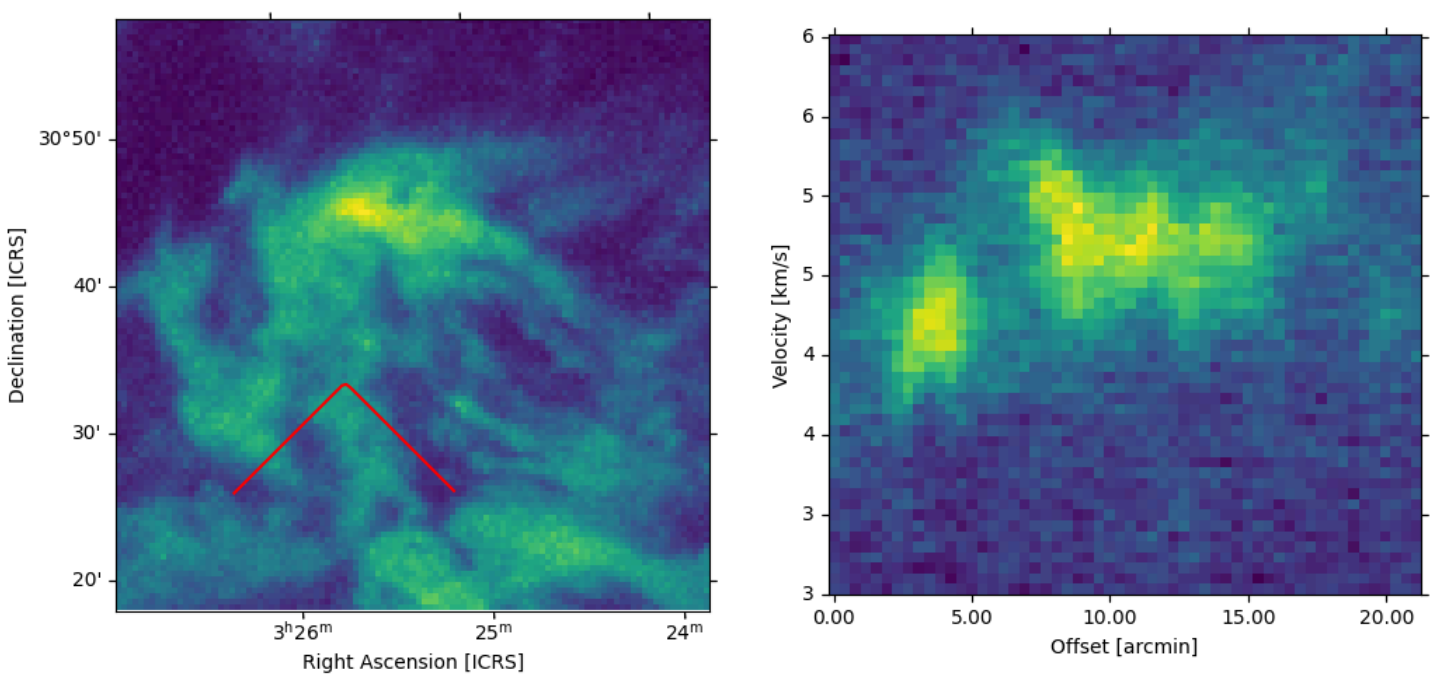

We can also make paths by supplying coordinates defined in an `astropy.coordinates.SkyCoord` to `pvextractor.Path`.

```
from astropy.coordinates import SkyCoord
```

```
skypath = Path(
    SkyCoord([3.4, 3.43, 3.42] * u.h, [30.5, 30.75, 30.5] * u.deg, frame="fk5")
)
```

We can plot again; the coordinates will be automatically determined

```
ax = plt.subplot(111, projection=cube.wcs.celestial)
ax.imshow(cube[25].value)
skypath.show_on_axis(ax, spacing=1, color="r")
ax.set_xlabel(f"Right Ascension [{cube.wcs.wcs.radesys}]")
ax.set_ylabel(f"Declination [{cube.wcs.wcs.radesys}]")
```

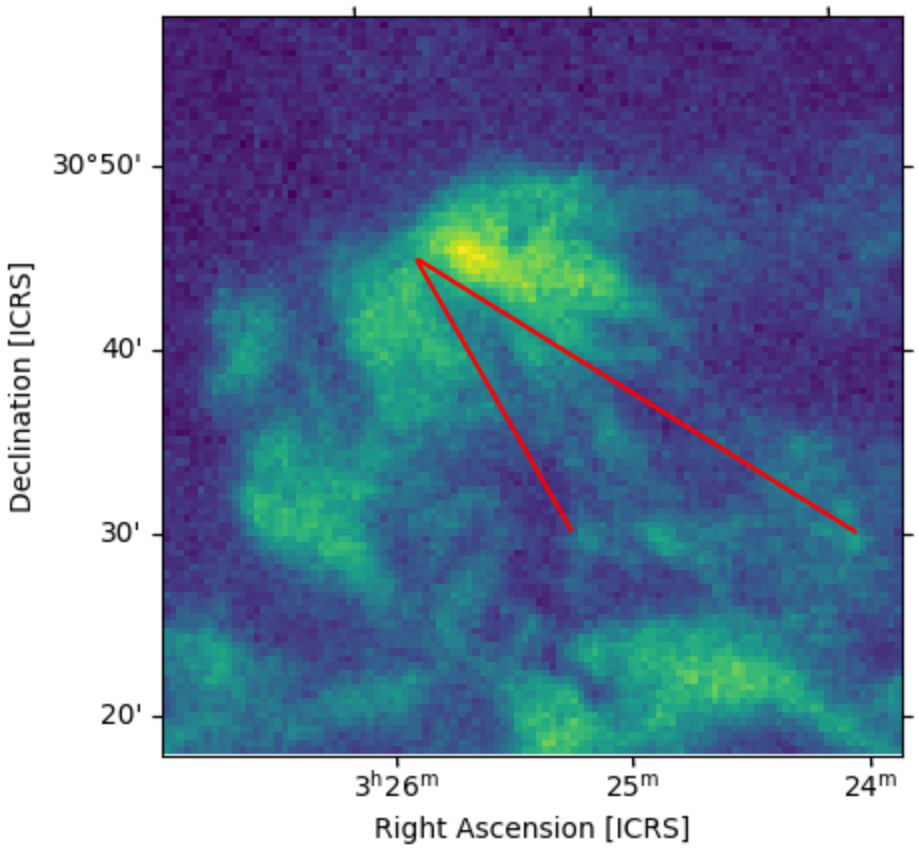


```
pvdiagram2 = extract_pv_slice(cube=cube, path=skypath)
pvdiagram2
```

```
<astropy.io.fits.hdu.image.PrimaryHDU at 0x7fdff0907bc0>
```

```
plt.figure(figsize=(12, 6))
ax = plt.subplot(121, projection=cube.wcs.celestial)
ax.imshow(mx)
skypath.show_on_axis(ax, spacing=1, color="r")

ww = wcs.WCS(pvdiagram2.header)
ax.set_xlabel(f"Right Ascension [{cube.wcs.wcs.radesys}]")
ax.set_ylabel(f"Declination [{cube.wcs.wcs.radesys}]")

ax = plt.subplot(122, projection=ww)
im = ax.imshow(pvdiagram2.data)

ax0 = ax.coords[0]
ax0.set_format_unit(u.arcmin)
ax1 = ax.coords[1]
ax1.set_format_unit(u.km / u.s)

ax.set_ylabel("Velocity [km/s]")
ax.set_xlabel("Offset [arcmin]")
```

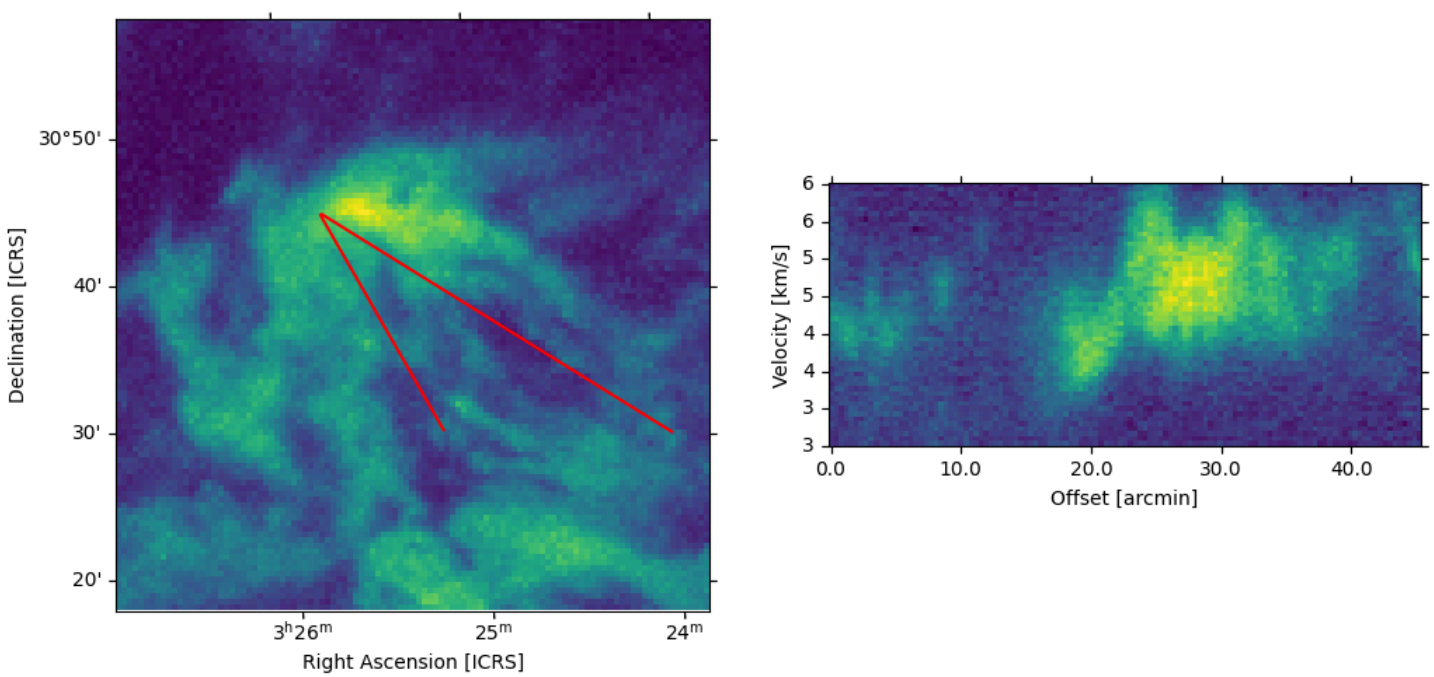

We can also change the aspect ratio of the PV diagram. The `figsize` parameter controls the figure size, which has some effect, and the `ax.set_aspect` command controls the aspect ratio of the individually displayed pixels

```
plt.figure(figsize=(12, 6))
ax = plt.subplot(121, projection=cube.wcs.celestial)
ax.imshow(mx)
skypath.show_on_axis(ax, spacing=1, color="r")

ww = wcs.WCS(pvdiagram2.header)
ax.set_xlabel(f"Right Ascension [{cube.wcs.wcs.radesys}]")
ax.set_ylabel(f"Declination [{cube.wcs.wcs.radesys}]")


ax = plt.subplot(122, projection=ww)
im = ax.imshow(pvdiagram2.data)
ax.set_aspect(2)

ax0 = ax.coords[0]
ax0.set_format_unit(u.arcmin)
ax1 = ax.coords[1]
ax1.set_format_unit(u.km / u.s)

ax.set_ylabel("Velocity [km/s]")
ax.set_xlabel("Offset [arcmin]")
```

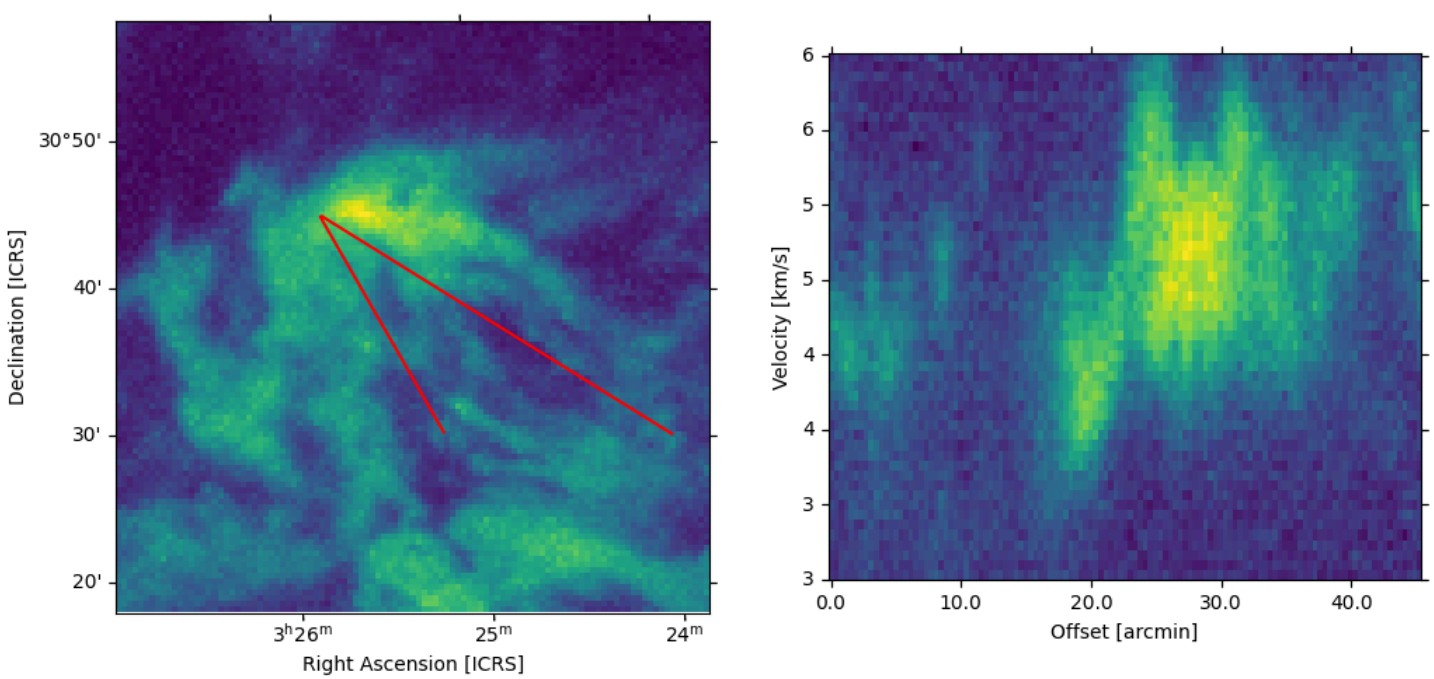

PV Extraction with Spatial Averaging

`pvextractor.Path` allows you to specify a `width` to average over, which specifies a spatial range around the path to average over.

In other words, it turns our path into a series of consecutive rectangular regions.

```
skypath2 = Path(
    SkyCoord([3.4, 3.429, 3.42] * u.h, [30.5, 30.75, 30.5] * u.deg, frame="fk5"),
    width=2 * u.arcmin,
)
```

```
pvdiagram3 = extract_pv_slice(cube=cube, path=skypath2)
```

We can plot this path as a set of patches to show where we averaged. The default spacing is 1 pixel,so we plot 1-pixel chunks.

```
plt.figure(figsize=(12, 6))
ax = plt.subplot(121, projection=cube.wcs.celestial)
ax.imshow(mx)

skypath2.show_on_axis(ax, spacing=1, edgecolor="r", linestyle=":", linewidth=0.75)

ww = wcs.WCS(pvdiagram3.header)
ax.set_xlabel(f"Right Ascension [{cube.wcs.wcs.radesys}]")
ax.set_ylabel(f"Declination [{cube.wcs.wcs.radesys}]")

ax = plt.subplot(122, projection=ww)
im = ax.imshow(pvdiagram3.data)
ax.set_aspect(2.5)

cb = plt.colorbar(mappable=im)
cb.set_label("Brightness Temperature [K]")

ax0 = ax.coords[0]
ax0.set_format_unit(u.arcmin)
ax1 = ax.coords[1]
ax1.set_format_unit(u.km / u.s)


ax.set_ylabel("Velocity [km/s]")
ax.set_xlabel("Offset [arcmin]")
```

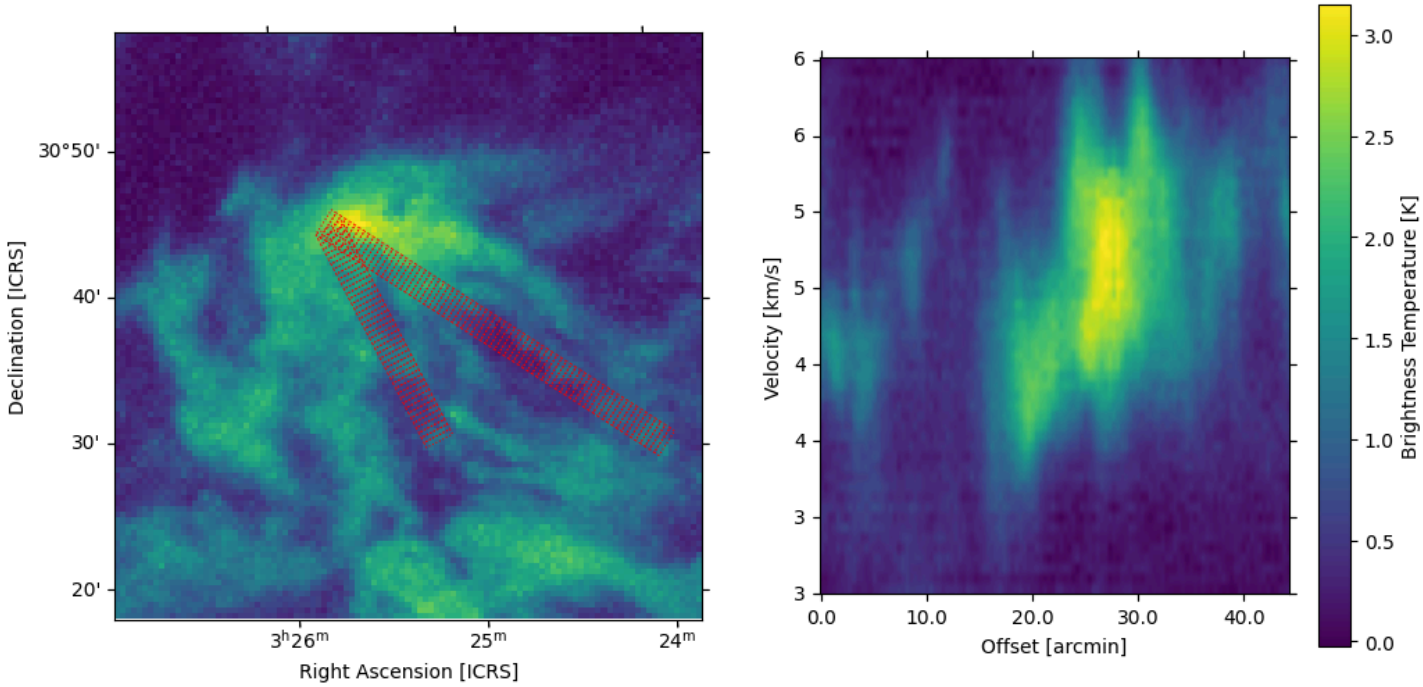

We can also have more widely spaced chunks.

Note that the spacing given to `extract_pv_slice` affects the shape of the output PV diagram, so we also change the aspect ratio:

```
pvdiagram4 = extract_pv_slice(cube=cube, path=skypath2, spacing=5)

fig = plt.figure(figsize=(12, 6))
ax = plt.subplot(121, projection=cube.wcs.celestial)
ax.imshow(mx)
skypath2.show_on_axis(ax, spacing=5, edgecolor="w", linestyle=":", linewidth=0.75)

ww = wcs.WCS(pvdiagram4.header)
ax.set_xlabel(f"Right Ascension [{cube.wcs.wcs.radesys}]")
ax.set_ylabel(f"Declination [{cube.wcs.wcs.radesys}]")

ax = plt.subplot(122, projection=ww)
im = ax.imshow(pvdiagram4.data)
cb = plt.colorbar(mappable=im)
cb.set_label("Brightness Temperature [K]")
ax.set_aspect(0.5)

ax0 = ax.coords[0]
ax0.set_format_unit(u.arcmin)
ax1 = ax.coords[1]
ax1.set_format_unit(u.km / u.s)

ax.set_ylabel("Velocity [km/s]")
ax.set_xlabel("Offset [arcmin]")
```

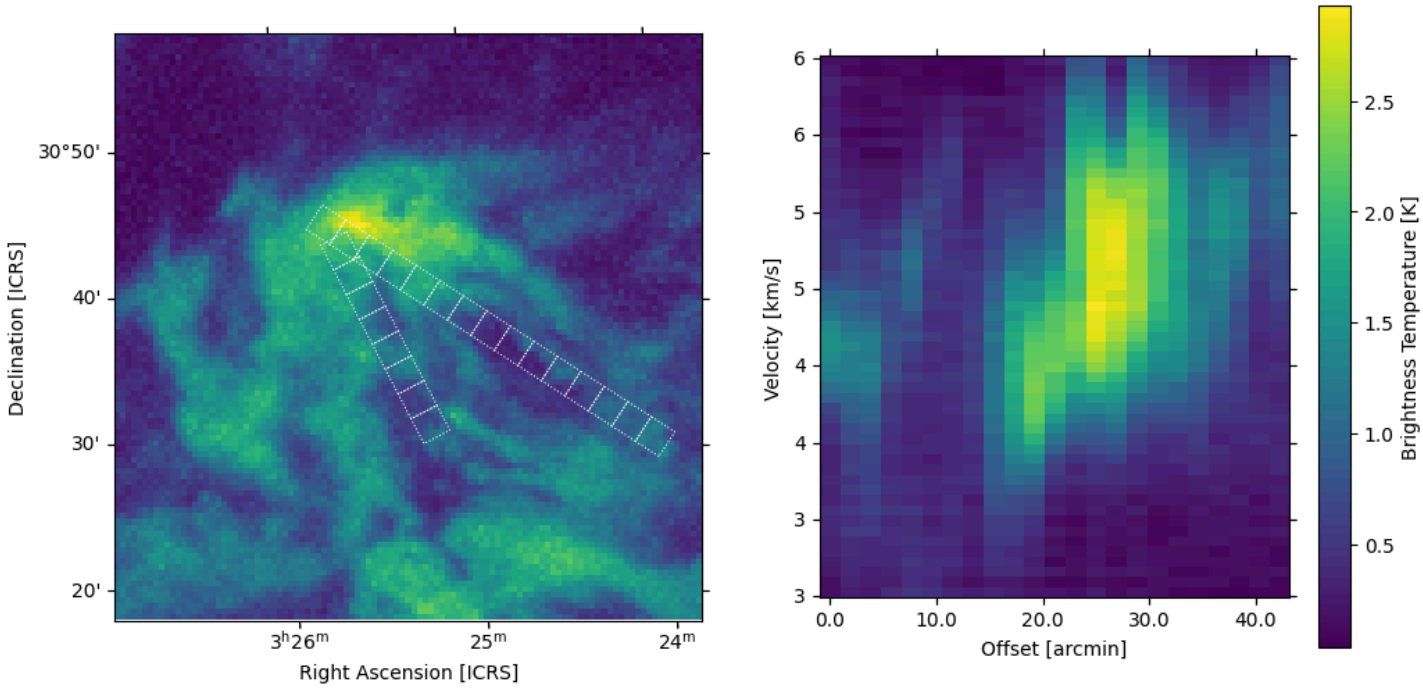

Saving

Finally, we can save the extracted PV diagram as a FITS file:

```
pvdiagram.writeto("saved_pvdiagram.fits", overwrite=True)
```

We can also save the figure as a png or pdf:

```
fig.savefig("saved_pvdiagram.png", bbox_inches="tight")
fig.savefig("saved_pvdiagram.pdf", bbox_inches="tight")
```